General information

Wellbore name	6507/7-1
Type	EXPLORATION
Purpose	WILDCAT
Status	P&A
Factmaps in new window	link to map
Main area	NORWEGIAN SEA
Well name	6507/7-1
Seismic location	911460 SP. 230
Drilling operator	Conoco Norway Inc.
Drill permit	427-L
Production licence at wellhead	095
Prod. licence for drilling target	095
Drilling facility	NORTRYM
Drilling days	114
Entered date	10.08.1984
Completed date	01.12.1984
Release date	01.12.1986
Publication date	29.06.2004
Purpose – planned	WILDCAT
Reentry	NO
Content	GAS SHOWS
Discovery wellbore	NO
Kelly bushing elevation [m]	25.0
Water depth [m]	367.0
Total depth (MD) [m RKB]	4825.0
Final vertical depth (TVD) [m RKB]	4818.0
Maximum inclination [°]	6.8
Bottom hole temperature [°C]	170
Oldest penetrated age	EARLY JURASSIC
Oldest penetrated formation	TILJE FM
Geodetic datum	ED50
NS degrees	65° 27' 16.73'' N
EW degrees	7° 12' 52.77'' E
NS UTM [m]	7260481.16
EW UTM [m]	417247.40
UTM zone	32
NPDID wellbore	138

Wellbore history

General

License 095 was awarded to the Conoco/Statoil/Arco/Tenneco group in 1984 with Conoco as operator. The area, known as Haltenbanken, is a promising oil and gas province. It straddles two major Mesozoic structural features, the Trøndelag Platform and the Vøring Basin and lies along the western flank of the series of NNE-SSW faults, which separate them. The well was drilled on the A-prospect and was designed to test a major fault block. It was hoped to test oil bearing Middle Jurassic Sandstone at approximately 3898 m with a secondary objective at the Early Jurassic level.

The well is Type Well for the Lysing Formation.

Operations and results

Wildcat well 6507/7-1 was spudded with the semi-submersible drilling rig Nortrym on 10 August 1984 and drilled to TD at a depth of 4825 in the Early Jurassic Tilje Formation. The well was drilled with seawater and hi-vis pills down to 906 m, with gypsum/polymer mud from 906 m to 3803 m, and with gypsum/lignite mud from 3803 m to TD. Few problems were experienced whilst drilling the well. Some time was lost due to gumbo-associated problems. Mud was lost to formation while cementing the 13 3/8" casing, resulting in the top of cement being lower than planned. However this did not affect the strength at the shoe, as it was possible to make a good leak off test after drilling out. Tight hole problems were experienced on a bit trip from 3716 meters, with over pull recorded on the majority of subsequent trips. In addition a gain of 45 bbls of mud at 4360 meters indicated apparent under balanced conditions. Mud weight was progressively raised from 11.2 ppg at 4081 meters to 12.6 ppg by 4360 meters in response to this problem. A further increase to 13.1 ppg was made at TD due to logging difficulties associated with tight hole. The overall operation took 115 days from spud. Total depth was reached in 87 days, while an additional 28 days were used to log, test and abandon the well.

Sharp increases in total gas and penetration rates marked the top of the Middle Jurassic Sandstone at 4338 m, (Ile Formation). The interval 4340 m to 4370 meters was cored. High total gas levels were present in the upper section of this sandstone, however no hydrocarbons heavier than propane were recorded. Gas was observed to bleed from the core and fluorescence was bright though cut was slow. Log analysis indicated some of the sands were possibly gas saturated and it was therefore decided the interval 4338 - 4374 meters, at the top of the sandstone, should be tested. Core and log derived porosities were largely similar. The log derived porosity averaged 6% over the majority of the interval with up to 15% indicated in a thin zone at the top and 10% in a 7 meter section at the bottom of the sandstone. The core derived permeability data shows an average liquid permeability of 0.77 md and an average overall permeability (excluding fractures) of 0.3 md. Higher permeabilities in the range 360 md to 673 md were reported from a 0.65-meter interval around 4131 meters.

A comprehensive suite of logs was run, including nine RFT runs. A total of seven cores were obtained. One was cut in the Early Cretaceous, three in the Ile Formation, one in the Ror Formation, and one in the Tilje Formation. The RFT data indicated the tested zones had very low permeability. Water and gas was sampled during DST.

The well was permanently abandoned on 1 December 1984 as a dry well with gas shows.

Testing

A drill stem test was performed in the upper part of the Ile Formation. Prior to the DST a

7" liner was run and successfully pressure tested to 3500 psi. CBL/VDL and CET logs were used to establish that cement bonding across the test zone was good. After perforation of the interval 4338 m to 4374 m the DST flowed 1152 bbls (183 Sm3) of water and less than 1 mmcf of gas per day. The measured gas gravity was 0.65 at 60deg F (15.6deg C, air = 1) with a maximum of 4% CO2 while the test was flowing, 19% while sampling, and no H2S.

Cuttings at the Norwegian Offshore Directorate

Cutting sample, top depth [m]	Cutting samples, bottom depth [m]
490.00	4823.00

Cuttings available for sampling?	YES

Cores at the Norwegian Offshore Directorate

Core sample number	Core sample – top depth	Core sample – bottom depth	Core sample depth – uom
1	3504.0	3512.7	[m]
2	4340.0	4346.2	[m]
3	4346.2	4356.8	[m]
5	4356.7	4375.2	[m]
6	4475.0	4488.4	[m]
7	4593.0	4600.4	[m]

Total core sample length [m]	64.7
Cores available for sampling?	YES

Core photos

3504-3512m

3504-3512m

3504-3512m

3504-3512m

3504-3512m

3504-3512m 3504-3512m 3504-3512m 3504-3512m 3504-3512m

3504-3512m 3504-3512m 3504-3512m 3504-3512m 3504-3512m

4340-4348m 4340-4348m 4340-4348m 4340-4348m 4340-4348m

4340-4348m 4340-4348m 4340-4348m 4340-4348m 4340-4348m

4340-4348m 4346-4356m 4346-4356m 4346-4356m 4346-4356m

4346-4356m 4346-4356m 4346-4356m 4346-4356m 4346-4356m

4346-4356m 4346-4356m 4346-4356m 4346-4356m 4346-4356m



4346-4356m 4346-4356m 4346-4356m 4346-4356m 4346-4356m

4356-4375m 4356-4375m 4356-4375m 4356-4375m 4356-4375m

4356-4375m 4356-4375m 4356-4375m 4356-4375m 4356-4375m

4356-4375m 4356-4375m 4356-4375m 4356-4375m 4356-4375m



4346-4375m 4356-5475m 4356-4375m 4356-4375m 4356-4375m

4356-4375m 4356-4375m 4356-4375m 4356-4375m 4356-4375m

4356-4375m 4356-4375m 4356-4375m 4356-4375m 4356-4375m

4356-4375m 4475-4488m 4475-4488m 4475-4488m 4475-4488m

4475-4488m 4475-4488m 4475-4488m 4475-4488m 4475-4488m

4475-4488m 4475-4488m 4475-4488m 4475-4488m 4475-4488m

4475-4488m 4475-4488m 4475-4488m 4475-4488m 4475-4488m



4475-4488m 4475-4488m 4475-4488m 4475-4488m 4593-4600m

4593-4600m

4593-4600m

4593-4600m

4593-4600m

4593-4600m

4593-4600m

4593-4600m

4593-4600m

4593-4600m

4593-4600m

4593-4600m

4593-4600m

Palynological slides at the Norwegian Offshore Directorate

Sample depth	Depth unit	Sample type	Laboratory
2150.0	[m]	DC	SAGA
2156.0	[m]	DC	SAGA
2159.0	[m]	DC	SAGA
2165.0	[m]	DC	SAGA
2852.0	[m]	DC	OD
2861.0	[m]	DC	OD
2870.0	[m]	DC	OD
2882.0	[m]	DC	OD
2891.0	[m]	DC	OD
2900.0	[m]	DC	OD
2900.0	[m]	DC	SAGA
2909.0	[m]	DC	OD
2915.0	[m]	DC	SAGA
2921.0	[m]	DC	OD

2930.0	[m]	DC	OD
2939.0	[m]	DC	OD
2951.0	[m]	DC	OD
2960.0	[m]	DC	OD
2969.0	[m]	DC	OD
2981.0	[m]	DC	OD
2990.0	[m]	DC	OD
3002.0	[m]	DC	OD
3011.0	[m]	DC	OD
3020.0	[m]	DC	OD
3029.0	[m]	DC	OD
3041.0	[m]	DC	OD
3050.0	[m]	DC	OD
3062.0	[m]	DC	OD
3071.0	[m]	DC	OD
3080.0	[m]	DC	OD
3092.0	[m]	DC	OD
3101.0	[m]	DC	OD
3119.0	[m]	DC	OD
3131.0	[m]	DC	OD
3143.0	[m]	DC	OD
3152.0	[m]	DC	OD
3161.0	[m]	DC	OD
3170.0	[m]	DC	OD
3179.0	[m]	DC	OD
3191.0	[m]	DC	OD
3200.0	[m]	DC	OD
3209.0	[m]	DC	OD
3221.0	[m]	DC	OD
3230.0	[m]	DC	OD
3239.0	[m]	DC	OD
3251.0	[m]	DC	OD
3260.0	[m]	DC	OD
3269.0	[m]	DC	OD
3281.0	[m]	DC	OD
3290.0	[m]	DC	OD
3302.0	[m]	DC	OD
3311.0	[m]	DC	OD
3320.0	[m]	DC	OD
3329.0	[m]	DC	OD

3341.0	[m]	DC	OD
3350.0	[m]	DC	OD
3362.0	[m]	DC	OD
3371.0	[m]	DC	OD
3380.0	[m]	DC	OD
3389.0	[m]	DC	OD
3404.0	[m]	DC	OD
3410.0	[m]	DC	OD
3419.0	[m]	DC	OD
3431.0	[m]	DC	OD
3440.0	[m]	DC	OD
3449.0	[m]	DC	OD
3461.0	[m]	DC	OD
3470.0	[m]	DC	OD
3474.0	[m]	DC	OD
3491.0	[m]	DC	OD
3500.0	[m]	DC	OD
3504.1	[m]	C	OD
3504.8	[m]	DC	SAGA
3504.8	[m]	C	OD
3505.8	[m]	C	OD
3506.5	[m]	C	OD
3506.5	[m]	DC	SAGA
3506.5	[m]	C	OD
3506.6	[m]	C	OD
3506.9	[m]	DC	SAGA
3506.9	[m]	C	OD
3508.0	[m]	C	OD
3508.9	[m]	C	OD
3509.0	[m]	DC	OD
3509.5	[m]	C	OD
3510.0	[m]	DC	SAGA
3510.3	[m]	C	OD
3521.0	[m]	DC	OD
3530.0	[m]	DC	OD
3539.0	[m]	DC	OD
3551.0	[m]	DC	OD
3560.0	[m]	DC	OD
3569.0	[m]	DC	OD
3581.0	[m]	DC	OD

3590.0	[m]	DC	OD
3602.0	[m]	DC	OD
3611.0	[m]	DC	OD
3620.0	[m]	DC	OD
3632.0	[m]	DC	OD
3641.0	[m]	DC	OD
3650.0	[m]	DC	OD
3659.0	[m]	DC	OD
3671.0	[m]	DC	OD
3680.0	[m]	DC	OD
3689.0	[m]	DC	OD
3701.0	[m]	DC	OD
3710.0	[m]	DC	OD
3719.0	[m]	DC	OD
3731.0	[m]	DC	OD
3740.0	[m]	DC	OD
3749.0	[m]	DC	OD
3761.0	[m]	DC	OD
3770.0	[m]	DC	OD
3779.0	[m]	DC	OD
3791.0	[m]	DC	OD
3800.0	[m]	DC	OD
3809.0	[m]	DC	OD
3821.0	[m]	DC	OD
3830.0	[m]	DC	OD
3839.0	[m]	DC	OD
3851.0	[m]	DC	OD
3860.0	[m]	DC	OD
3864.0	[m]	DC	OD
3881.0	[m]	DC	OD
3890.0	[m]	DC	OD
3902.0	[m]	DC	OD
3911.0	[m]	DC	OD
3920.0	[m]	DC	OD
3929.0	[m]	DC	OD
3941.0	[m]	DC	OD
3950.0	[m]	DC	OD
3959.0	[m]	DC	OD
3971.0	[m]	DC	OD
3980.0	[m]	DC	OD

3992.0	[m]	DC	OD
4001.0	[m]	DC	OD
4010.0	[m]	DC	OD
4019.0	[m]	DC	OD
4031.0	[m]	DC	OD
4040.0	[m]	DC	OD
4049.0	[m]	DC	OD
4061.0	[m]	DC	OD
4070.0	[m]	DC	OD
4082.0	[m]	DC	OD
4091.0	[m]	DC	OD
4100.0	[m]	DC	OD
4112.0	[m]	DC	OD
4121.0	[m]	DC	OD
4130.0	[m]	DC	OD
4142.0	[m]	DC	OD
4151.0	[m]	DC	OD
4160.0	[m]	DC	OD
4172.0	[m]	DC	OD
4181.0	[m]	DC	OD
4190.0	[m]	DC	OD
4202.0	[m]	DC	OD
4211.0	[m]	DC	OD
4220.0	[m]	DC	OD
4232.0	[m]	DC	OD
4241.0	[m]	DC	OD
4253.0	[m]	DC	OD
4262.0	[m]	DC	OD
4274.0	[m]	DC	OD
4283.0	[m]	DC	OD
4292.0	[m]	DC	OD
4301.0	[m]	DC	OD

Lithostratigraphy

Top depth [mMD RKB]	Lithostrat. unit
392	NORDLAND GP
392	NAUST FM
1483	KAI FM

1906	HORDALAND GP
1906	BRYGGE FM
2053	ROGALAND GP
2053	TARE FM
2102	TANG FM
2159	SHETLAND GP
2159	SPRINGAR FM
2400	NISE FM
2824	KVITNOS FM
2926	CROMER KNOLL GP
2926	LYSING FM
3000	LANGE FM
3495	NO FORMAL NAME
3645	LYR FM
3680	VIKING GP
3680	SPEKK FM
3785	MELKE FM
4338	FANGST GP
4338	ILE FM
4478	BÅT GP
4478	ROR FM
4586	TILJE FM

Composite logs

Document name	Document format	Document size [MB]
138	.pdf	0.88

Geochemical information

Document name	Document format	Document size [MB]
138_1	.pdf	3.98

Documents - older Norwegian Offshore Directorate WDSS reports and other related documents

Document name	Document format	Document size [MB]
138_01_WDSS_General_Information	.pdf	0.28
138_02_WDSS_completion_log	.pdf	0.39

Documents - reported by the production licence (period for duty of secrecy expired)

Document name	Document format	Document size [MB]
138_6507_7_1_COMPLETION_REPORT_AND_LOG	.pdf	23.85

Drill stem tests (DST)

Test number	From depth MD [m]	To depth MD [m]	Choke size [mm]
1.0	4338	4374	12.7

Test number	Final shut-in pressure [MPa]	Final flow pressure [MPa]	Bottom hole pressure [MPa]	Downhole temperature [°C]
1.0		5.000	64.000	

Test number	Oil [Sm3/day]	Gas [Sm3/day]	Oil density [g/cm3]	Gas grav. rel.air	GOR [m3/m3]
1.0		30000		0.650	

Logs

Log type	Log top depth [m]	Log bottom depth [m]
CBL VDL	2775	4463
CET GR CCL	2775	4463
CST	2200	3815
CST	3836	4816
DIL MSFL SLS GR CAL	489	918
DLL MSFL NGL	2177	3820
DLL MSFL NGT GR	3802	4160
DLL MSFL NGT GR	4080	4825
ISF SLS GR	2177	3820

ISF SLS GR	3802	4825
ISF SLS MSFL GR	905	2193
LDL CNL GR CAL	905	2193
LDL CNL GR CAL	2177	3820
LDL CNL GR CAL	4080	4823
RFT	2933	3592
RFT	4342	4762
SHDT	3802	4825
TEMPERATURE	367	2149
TEMPERATURE	2000	3658
VSP	2750	4820

Casing and leak-off tests

Casing type	Casing diam. [inch]	Casing depth [m]	Hole diam. [inch]	Hole depth [m]	LOT/FIT mud eqv. [g/cm3]	Formation test type
CONDUCTOR	30	489.0	36	495.0	1.20	LOT
SURF.COND.	20	906.0	26	936.0	1.55	LOT
INTERM.	13 3/8	2178.0	17 1/2	2225.0	1.85	LOT
INTERM.	9 5/8	3802.5	12 1/2	3825.0	2.03	LOT
LINER	7	4825.0	8 1/2	4825.0	0.00	LOT

Drilling mud

Depth MD [m]	Mud weight [g/cm3]	Visc. [mPa.s]	Yield point [Pa]	Mud type	Date measured
436	1.02			WATER BASED	29.11.1984
491	1.03	30.0	190.0	WATER BASED	13.08.1984
495	1.03	30.0	190.0	WATER BASED	13.08.1984
495	1.04	30.0	190.0	WATER BASED	14.08.1984
495	1.04	30.0	190.0	WATER BASED	14.08.1984
584	1.13	37.0		WATER BASED	16.08.1984
918	1.14	37.0		WATER BASED	20.08.1984
918	1.14	37.0		WATER BASED	21.08.1984
918	1.14	37.0		WATER BASED	21.08.1984
936	1.28	46.0	76.6	WATER BASED	22.08.1984
1184	1.28	22.0	81.4	WATER BASED	23.08.1984
1550	1.31	60.0	91.0	WATER BASED	24.08.1984
1785	1.38	28.0	114.9	WATER BASED	27.08.1984

2053	1.61			WATER BASED	28.11.1984
2060	1.44	28.0	143.6	WATER BASED	27.08.1984
2070	1.61			WATER BASED	27.11.1984
2193	1.50	20.0	86.2	WATER BASED	28.08.1984
2193	1.51	26.0	134.1	WATER BASED	29.08.1984
2193	1.50	26.0	95.8	WATER BASED	30.08.1984
2193	1.50	20.0	86.2	WATER BASED	28.08.1984
2193	1.51	26.0	134.1	WATER BASED	29.08.1984
2193	1.50	24.0	119.7	WATER BASED	27.08.1984
2193	1.50	26.0	95.8	WATER BASED	30.08.1984
2225	1.50	26.0	153.2	WATER BASED	31.08.1984
2421	1.51	30.0	148.4	WATER BASED	03.09.1984
2661	1.51	25.0	119.7	WATER BASED	03.09.1984
2760	1.50	20.0	181.9	WATER BASED	03.09.1984
2817	1.51	20.0	196.3	WATER BASED	04.09.1984
2886	1.53	19.0	143.6	WATER BASED	06.09.1984
2910	1.54	20.0	153.2	WATER BASED	06.09.1984
3014	1.57	22.0	167.6	WATER BASED	10.09.1984
3081	1.60	18.0	143.6	WATER BASED	10.09.1984
3114	1.62	20.0	162.8	WATER BASED	10.09.1984
3149	1.67	20.0	162.8	WATER BASED	10.09.1984
3183	1.65	20.0	172.4	WATER BASED	11.09.1984
3244	1.60	20.0	167.6	WATER BASED	12.09.1984
3303	1.60	18.0	162.8	WATER BASED	13.09.1984
3321	1.61	18.0	167.6	WATER BASED	14.09.1984
3351	1.64	20.0	167.6	WATER BASED	16.09.1984
3394	1.64	20.0	167.6	WATER BASED	16.09.1984
3461	1.65	22.0	172.4	WATER BASED	16.09.1984
3504	1.65	23.0	181.9	WATER BASED	17.09.1984
3522	1.65	20.0	167.6	WATER BASED	18.09.1984
3600	1.65	20.0	143.6	WATER BASED	20.09.1984
3600	1.65	20.0	143.6	WATER BASED	19.09.1984
3600	1.65	20.0	143.6	WATER BASED	20.09.1984
3606	1.61			WATER BASED	26.11.1984
3653	1.65	22.0	86.2	WATER BASED	23.09.1984
3707	1.65	35.0	105.3	WATER BASED	23.09.1984
3716	1.69	27.0	95.8	WATER BASED	23.09.1984
3761	1.71	31.0	114.9	WATER BASED	25.09.1984
3778	1.71	30.0	105.3	WATER BASED	25.09.1984
3815	1.71	34.0	110.1	WATER BASED	26.09.1984

3821	1.71	34.0	110.1	WATER BASED	27.09.1984
3821	1.70	30.0	95.8	WATER BASED	29.09.1984
3821	1.70	28.0	81.4	WATER BASED	29.09.1984
3821	1.70	28.0	81.4	WATER BASED	01.10.1984
3821	1.70	28.0	81.4	WATER BASED	29.09.1984
3821	1.70	28.0	81.4	WATER BASED	01.10.1984
3821	1.50	28.0	81.4	WATER BASED	02.10.1984
3821	1.50	28.0	81.4	WATER BASED	02.10.1984
3821	1.70	30.0	95.8	WATER BASED	29.09.1984
3825	1.50	18.0	62.2	WATER BASED	03.10.1984
3864	1.43	22.0	76.6	WATER BASED	04.10.1984
3933	1.40	21.0	95.8	WATER BASED	07.10.1984
3952	1.40	20.0	71.9	WATER BASED	07.10.1984
4010	1.38	20.0	91.0	WATER BASED	07.10.1984
4055	1.35	19.0	91.0	WATER BASED	08.10.1984
4081	1.35	17.0	81.4	WATER BASED	09.10.1984
4142	1.37	17.0	81.4	WATER BASED	10.10.1984
4163	1.39	18.0	76.6	WATER BASED	11.10.1984
4163	1.39	18.0	76.6	WATER BASED	15.10.1984
4163	1.39	18.0	76.6	WATER BASED	15.10.1984
4210	1.37	18.0	71.9	WATER BASED	15.10.1984
4226	1.37	18.0	76.6	WATER BASED	15.10.1984
4259	1.42	20.0	76.6	WATER BASED	16.10.1984
4318	1.43	22.0	86.2	WATER BASED	17.10.1984
4340	1.42	20.0	76.6	WATER BASED	18.10.1984
4346	1.48	25.0	91.0	WATER BASED	21.10.1984
4356	1.48	23.0	86.2	WATER BASED	21.10.1984
4357	1.51	23.0	76.6	WATER BASED	21.10.1984
4357	1.51	22.0	86.9	WATER BASED	22.10.1984
4357	1.51	22.0	86.9	WATER BASED	22.10.1984
4374	1.51	27.0	86.9	WATER BASED	23.10.1984
4388	1.50	26.0	95.8	WATER BASED	24.10.1984
4433	1.51	23.0	91.0	WATER BASED	25.10.1984
4475	1.51	28.0	95.8	WATER BASED	29.10.1984
4475	1.61	18.0	67.0	WATER BASED	22.11.1984
4475	1.61	18.0	67.0	WATER BASED	23.11.1984
4475	1.61	18.0	67.0	WATER BASED	26.11.1984
4475	1.61	18.0	67.0	WATER BASED	22.11.1984
4475	1.61	18.0	67.0	WATER BASED	23.11.1984
4475	1.61	18.0	67.0	WATER BASED	26.11.1984

4489	1.51	26.0	95.8	WATER BASED	29.10.1984
4500	1.61	24.0	91.0	WATER BASED	19.11.1984
4504	1.61	24.0	71.8	WATER BASED	19.11.1984
4504	1.61	20.0	76.6	WATER BASED	19.11.1984
4504	1.61	20.0	76.6	WATER BASED	20.11.1984
4504	1.61	20.0	76.6	WATER BASED	21.11.1984
4504	1.61	20.0	76.6	WATER BASED	19.11.1984
4504	1.61	20.0	76.6	WATER BASED	20.11.1984
4504	1.61	20.0	76.6	WATER BASED	21.11.1984
4514	1.51	25.0	81.4	WATER BASED	29.10.1984
4586	1.51	24.0	91.0	WATER BASED	30.10.1984
4593	1.51	30.0	134.1	WATER BASED	31.10.1984
4600	1.51	28.0	91.0	WATER BASED	01.11.1984
4643	1.51	32.0	86.2	WATER BASED	02.11.1984
4711	1.51	32.0	95.8	WATER BASED	05.11.1984
4750	1.61	25.0	76.6	WATER BASED	16.11.1984
4778	1.51	30.0	95.8	WATER BASED	05.11.1984
4825	1.51	26.0	81.4	WATER BASED	05.11.1984
4825	1.51	27.0	86.2	WATER BASED	06.11.1984
4825	1.51	29.0	95.8	WATER BASED	07.11.1984
4825	1.51	28.0	105.3	WATER BASED	08.11.1984
4825	1.58	29.0	124.5	WATER BASED	12.11.1984
4825	1.58	29.0	124.5	WATER BASED	13.11.1984
4825	1.51	29.0	95.8	WATER BASED	07.11.1984
4825	1.51	28.0	105.3	WATER BASED	08.11.1984
4825	1.57	29.0	124.5	WATER BASED	09.11.1984
4825	1.58	29.0	124.5	WATER BASED	12.11.1984
4825	1.58	29.0	124.5	WATER BASED	13.11.1984
4825	1.57	29.0	124.5	WATER BASED	09.11.1984
4825	1.58	29.0	124.5	WATER BASED	12.11.1984
4825	1.51	27.0	86.2	WATER BASED	06.11.1984
4825	1.58	29.0	124.5	WATER BASED	12.11.1984

Thin sections at the Norwegian Offshore Directorate

Depth	Unit
3504.20	[m]
3507.25	[m]
3509.65	[m]

Pressure plots

The pore pressure data is sourced from well logs if no other source is specified. In some wells where pore pressure logs do not exist, information from Drill stem tests and kicks have been used. The data has been reported to the NPD, and further processed and quality controlled by IHS Markit.

Document name	Document format	Document size [MB]
138_Formation_pressure_(Formasjonstrykk)	.pdf	0.27